DHARAYA HOMEPAGE

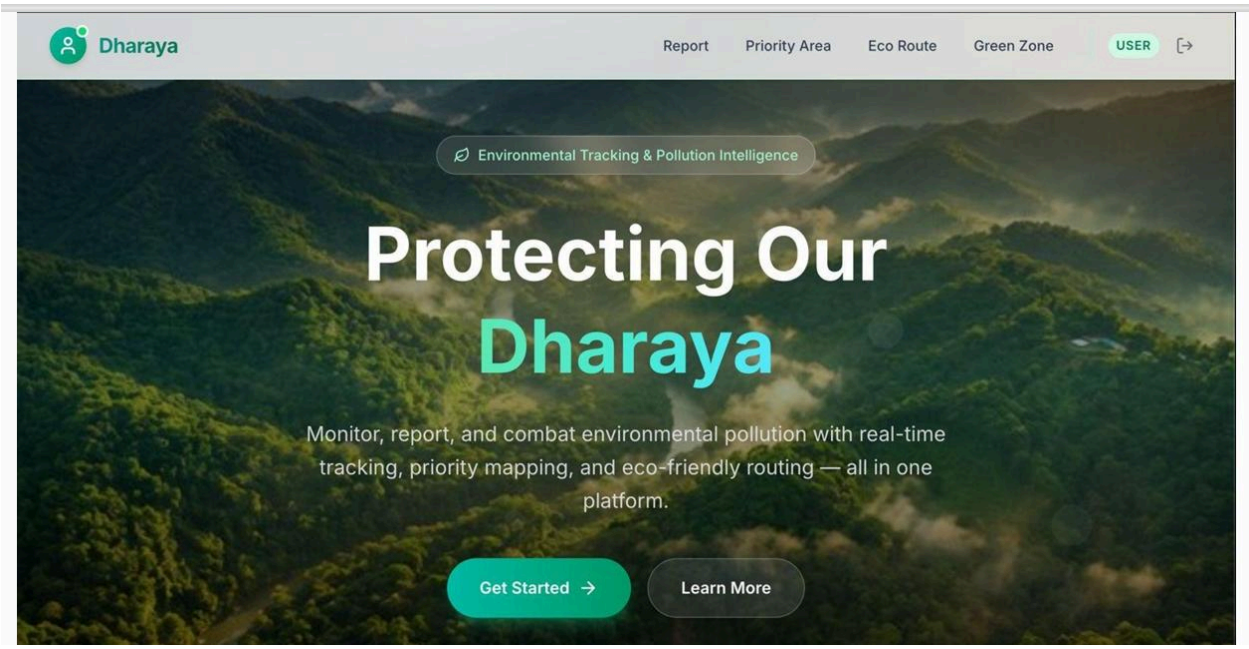

PREDICTIVE HEATMAP

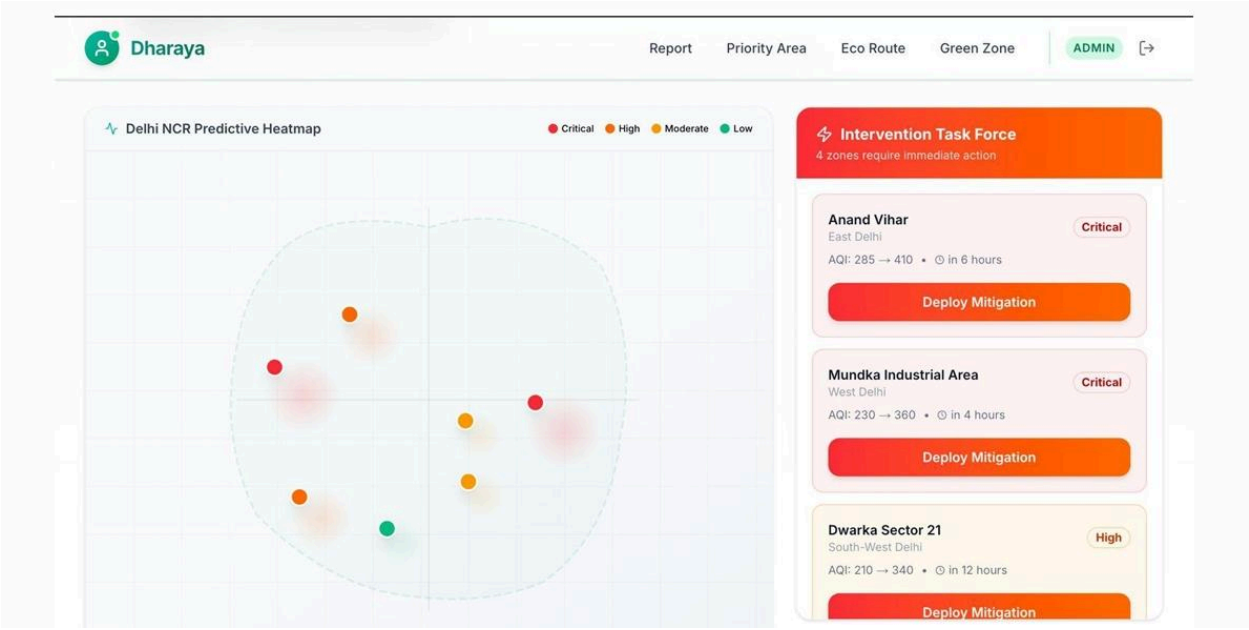

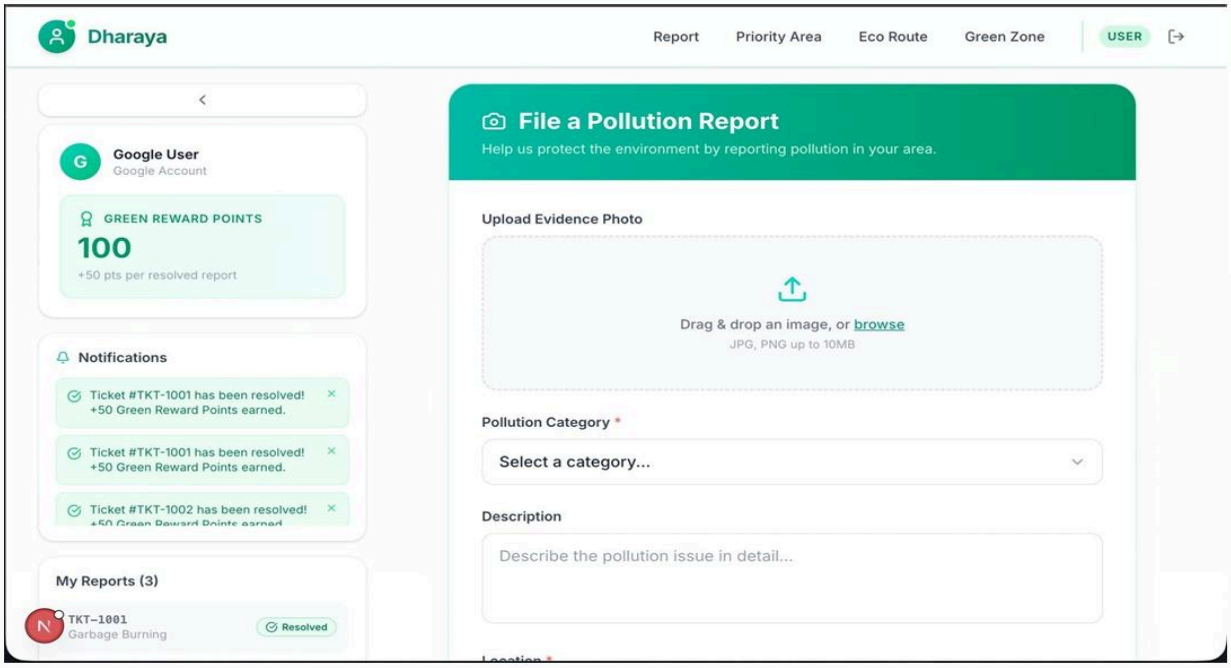
Dharaya
Report
Priority Area
Eco Route
Green Zone
USER
Google User
Google Account
GREEN REWARD POINTS
100
+50 pts per resolved report
Notifications
Ticket #TKT-1001 has been resolved! +50 Green Reward Points earned.
Ticket #TKT-1001 has been resolved! +50 Green Reward Points earned.
Ticket #TKT-1002 has been resolved!
My Reports (3)
TKT-1001
Garbage Burning
Resolved
File a Pollution Report
Help us protect the environment by reporting pollution in your area.
Upload Evidence Photo
Drag & drop an image, or browse
JPG, PNG up to 10MB
Pollution Category *
Select a category...
Description
Describe the pollution issue in detail...

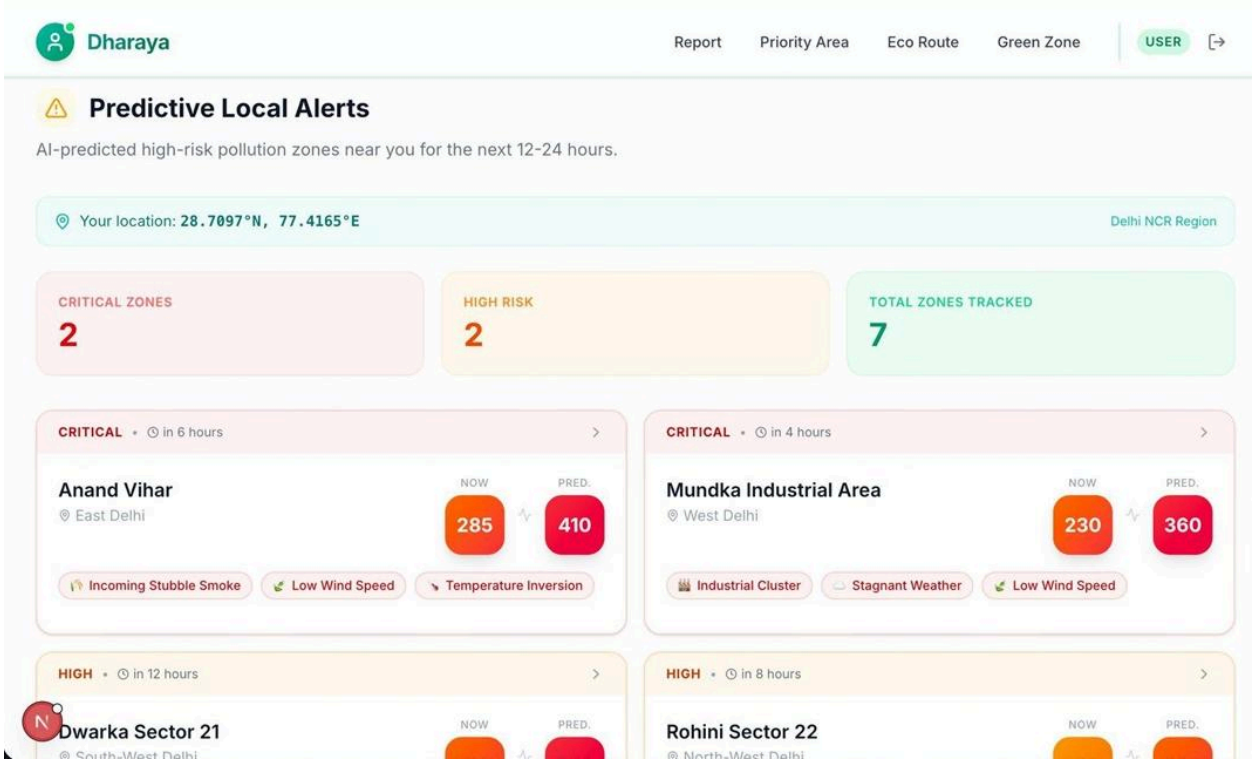
Dharaya
Report
Priority Area
Eco Route
Green Zone
USER
Predictive Local Alerts
AI-predicted high-risk pollution zones near you for the next 12-24 hours.
Your location: 28.7097°N, 77.4165°E
Delhi NCR Region
CRITICAL ZONES
2
HIGH RISK
2
TOTAL ZONES TRACKED
7
CRITICAL • in 6 hours
Anand Vihar
East Delhi
NOW
285
PRED.
410
Incoming Stubble Smoke
Low Wind Speed
Temperature Inversion
CRITICAL • in 4 hours
Mundka Industrial Area
West Delhi
NOW
230
PRED.
360
Industrial Cluster
Stagnant Weather
Low Wind Speed
HIGH • in 12 hours
Dwarka Sector 21
NOW
PRED.
HIGH • in 8 hours
Rohini Sector 22
NOW
PRED.

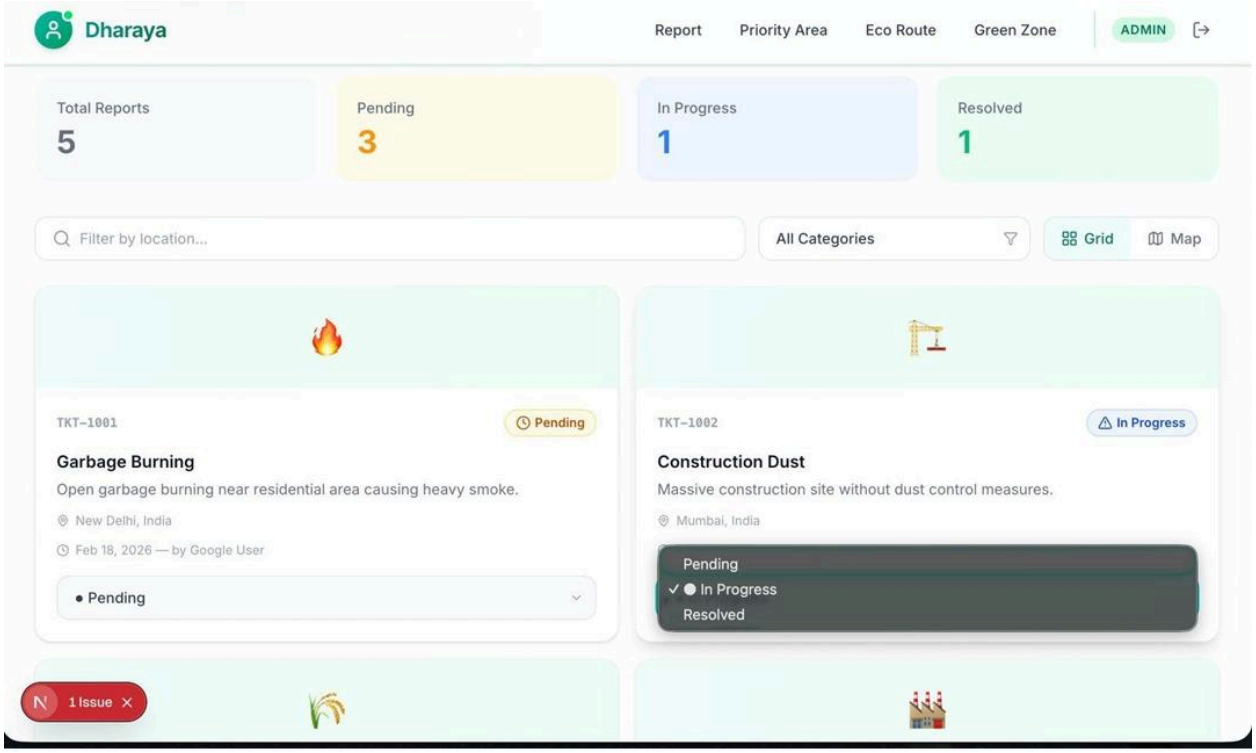
Dharaya
Report
Priority Area
Eco Route
Green Zone
ADMIN
Total Reports
5
Pending
3
In Progress
1
Resolved
1
Filter by location...
All Categories
Grid
Map
TKT-1001
Pending
Garbage Burning
Open garbage burning near residential area causing heavy smoke.
New Delhi, India
Feb 18, 2026 — by Google User
• Pending
TKT-1002
In Progress
Construction Dust
Massive construction site without dust control measures.
Mumbai, India
Pending
In Progress
Resolved
1 Issue

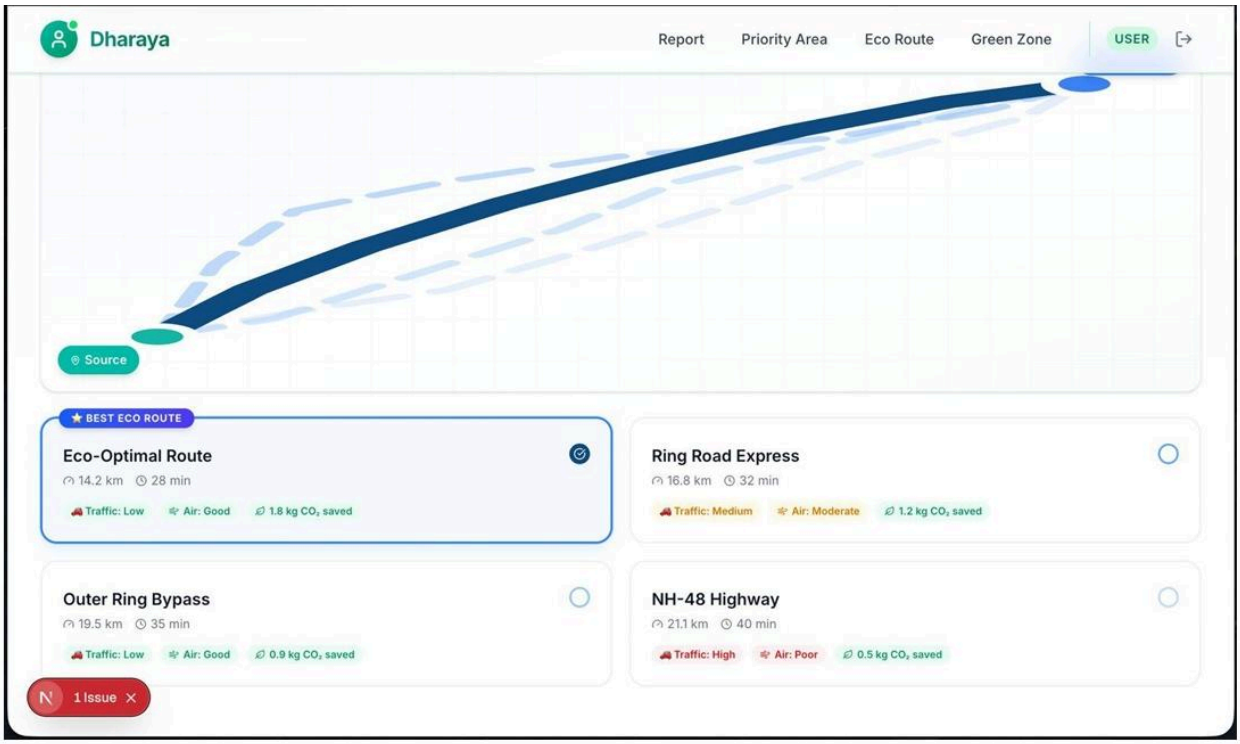
Dharaya
Report
Priority Area
Eco Route
Green Zone
USER
Source
BEST ECO ROUTE
Eco-Optimal Route
14.2 km
28 min
Traffic: Low
Air: Good
1.8 kg CO₂ saved
Ring Road Express
16.8 km
32 min
Traffic: Medium
Air: Moderate
1.2 kg CO₂ saved
Outer Ring Bypass
19.5 km
35 min
Traffic: Low
Air: Good
0.9 kg CO₂ saved
NH-48 Highway
21.1 km
40 min
Traffic: High
Air: Poor
0.5 kg CO₂ saved
1 Issue

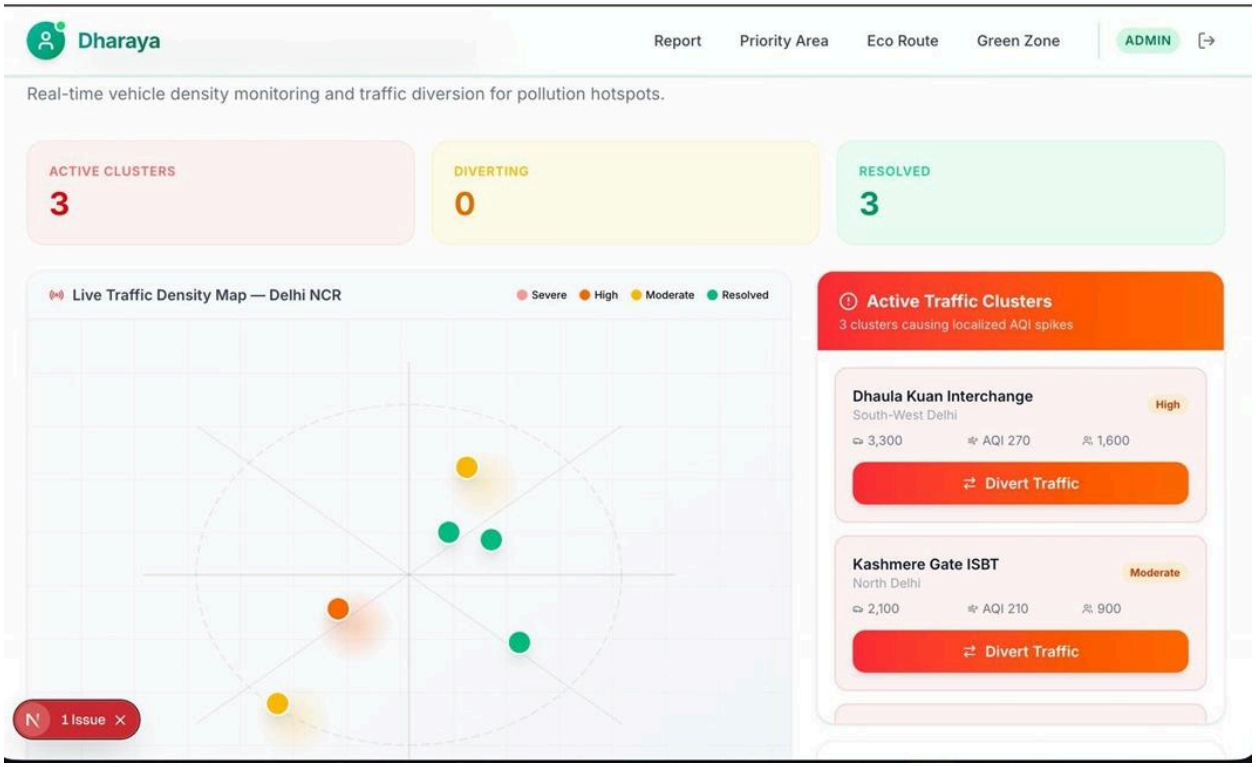
Dharaya
Report
Priority Area
Eco Route
Green Zone
ADMIN
Real-time vehicle density monitoring and traffic diversion for pollution hotspots.
ACTIVE CLUSTERS
3
DIVERTING
0
RESOLVED
3
Live Traffic Density Map — Delhi NCR
Severe
High
Moderate
Resolved
1 Issue
Active Traffic Clusters
3 clusters causing localized AQI spikes
Dhaula Kuan Interchange
South-West Delhi
High
3,300
AQI 270
1,600
Divert Traffic
Kashmere Gate ISBT
North Delhi
Moderate
2,100
AQI 210
900
Divert Traffic